AGRICONNECT – YOUR FARM HUB

A Major Project Report

Submitted in partial fulfilment of requirement of the

Degree of

BACHELOR OF TECHNOLOGY in COMPUTER SCIENCE & ENGINEERING

BY

Mahima Sahu	**EN22CS301570**
Lakshya Agrawal	**EN22CS301549**
Kushagra Sharma	**EN22CS301547**

Under the Guidance of

Prof. Shivani Patnaha

Prof. Vineeta Rathore

Department of Computer Science & Engineering

Faculty of Engineering

MEDICAPS UNIVERSITY, INDORE- 453331

APRIL-2025

Report Approval

The project work **"AgriConnect – Your Farm Hub"** is hereby approved as a creditable study of an engineering/computer application subject carried out and presented in a manner satisfactory to warrant its acceptance as prerequisite for the Degree for which it has been submitted.

It is to be understood that by this approval the undersigned do not endorse or approve any statement made, opinion expressed, or conclusion drawn there in; but approve the "Project Report" only for the purpose for which it has been submitted.

Internal Examiner
Prof. Shivani Patnaha
Prof. Vineeta Rathore
Designation:
Affiliation:

External Examiner
Name:
Designation:
Affiliation:

Declaration

I/We hereby declare that the project entitled **"AgriConnect – Your Farm Hub"** submitted in partial fulfilment for the award of the degree of Bachelor of Technology/Master of Computer Applications in '**B. Tech CSE**' completed under the supervision of **Prof. Shivani Patnaha / Prof. Vineeta Rathore** Faculty of Engineering, Medi-Caps University Indore is an authentic work.

Further, I/we declare that the content of this Project work, in full or in parts, have neither been taken from any other source nor have been submitted to any other Institute or University for the award of any degree or diploma.

Signature and name of the student(s) with date

Certificate

We, **Prof. Shivani Patnaha / Prof. Vineeta Rathore** certify that the project entitled **"Agri Connect – Your Farm Hub"** submitted in partial fulfilment for the award of the degree of Bachelor of Technology by **Mahima Sahu, Lakshya Agrawal, Kushagra Sharma** is the record carried out by them under my/our guidance and that the work has not formed the basis of award of any other degree elsewhere.

Prof. Shivani Patnaha

Department of Engineering

MediCaps University, Indore

Prof. Vineeta Rathore

Department of Engineering

MediCaps University, Indore

Dr. Kailash Bandhu

Head of the Department

Computer Science & Engineering

Medi-Caps University, Indore

Acknowledgement

I would like to express my deepest gratitude to the Honourable Chancellor, **Shri R C Mittal,** who has provided me with every facility to successfully carry out this project, and my profound indebtedness to **Prof. (Dr.) D. K. Patnaik,** Vice Chancellor, Medi-Caps University, whose unfailing support and enthusiasm has always boosted up my morale. I also thank **Prof. (Dr.) Ratnesh Litoriya,** Dean, Faculty of Engineering, Medi-Caps University, for giving me a chance to work on this project. I would also like to thank my Head of the Department **Dr. Kailash Bandhu** for his continuous encouragement for the betterment of the project.

It is their help and support, due to which we became able to complete the design and technical report.

Without their support this report would not have been possible.

Mahima Sahu

Lakshya Agrawal

Kushagra Sharma

B.Tech. III Year (K)

Department of Computer Science & Engineering

Faculty of Engineering

Medi-Caps University, Indore

Abstract

The **AgriConnect** is a comprehensive web-based platform designed to empower farmers by integrating key agricultural services into a single, user-friendly interface. The application offers features such as real-time weather forecasting, crop price calculation, crop rotation planning, market trend analysis, and a live chat system to foster communication among farmers and vendors. Additionally, it includes an ecommerce module where users can buy or sell farm products and tools, along with a gallery, blog, and event section to engage the agricultural community.

Developed using **HTML**, **CSS**, and **JavaScript**, and powered by APIs like **OpenWeatherMap** and **WebSocket** technology, **AgriConnect** aims to modernize farming practices, improve decision-making, and enhance productivity through digital means.

The platform is mobile-responsive, lightweight, and easy to use, making it especially beneficial for rural users with basic internet access.

Future enhancements include database integration, secure authentication, and payment gateway support to make it a fully functional Agri-tech ecosystem.

Table of Contents

		Page No.
	Report Approval	ii
	Declaration	iii
	Certificate	iv
	Acknowledgement	v
	Abstract	vi
	Table of Contents	vii
	List of figures	viii
	List of tables	ix
	Abbreviations	x
	Notations & Symbols	xi
Chapter 1	**INTRODUCTION**	
	1.1 Introduction	14
	1.2 Literature Review	15
	1.3 Objectives	17
	1.4 Significance	18
	1.5 Research Design	19
	1.6 Source of Data	21
	1.7 Chapter Scheme	22
Chapter 2	**REQUIREMENTS SPECIFICATION**	
	2.1 User Characteristics	23
	2.2 Functional Requirements	25
	2.3 Dependencies	27
	2.4 Performance Requirements	29
	2.5 Hardware Requirements	30
	2.6 Constraints & Assumptions	33

Chapter 3	**DESIGN (Whichever is applicable)**	36
	3.1 Function Oriented Design for procedural approach	36
	3.2 System Design	37
	3.2.1 Data Flow Diagrams (Level 0, Level1)	37
	3.2.2 Activity Diagram	38
	3.2.3 Flow Chart	39
	3.2.4 Class Diagram	40
	3.2.5 ER Diagram	41
	3.2.6 Sequence diagram	42
	3.3 Database Design	43
	3.3.1 Logical Database Design	43
	3.3.2 Physical Database Design	43
Chapter 4	**IMPLEMENTATION, TESTING, AND MAINTENANCE**	44
	4.1 Introduction to Languages, IDE's, Tools and Technologies used for Implementation	44
	4.2 Testing Techniques and Test Plans (According to project)	45
	4.3 Installation Instructions	46
	4.4 End User Instructions	46
Chapter 5	**RESULTS AND DISCUSSIONS**	47
	5.1 User Interface Representation (of Respective Project)	48
	5.2 Brief Description of Various Modules of the system	49
	5.3 Snapshots of system with brief detail of each	50

	5.4 Back Ends Representation (Database to be used)	51
	5.5 Snapshots of Database Tables with brief description	51
Chapter 6	**SUMMARY AND CONCLUSION**	52
Chapter 7	**FUTURE SCOPE**	54
	Appendix	55
	Bibliography	56
Note	**Results and Discussions may not be a separate chapter it may be included in main chapter**	

List of Figure

System Design:

1. **Use Case Diagrams:**
   Depicts the functionalities of the system from the user and admin perspectives.

2. **Activity Diagram:**
   Shows the flow of activities in a process.

3. **Flow Chart:**
   Depicts the sequence of steps in an algorithm or process.

4. **Class Diagram:**
   Describes the structure of a system by showing classes, their attributes, and relationships.

5. **Use case diagram:**
   Represents the interactions between actors and the system's functionalities.

6. **ER Diagram:**
   Models the entities and relationships within a database.

7. **Swimlane diagram:**
   Represents the flow of activities between different entities involved in the system.

Database Design:

1. **Logical Database Design:**
   Defines the conceptual structure of the database and the relationships between data.

2. **Physical Database Design:**
   Specifies how the logical structure is implemented in a specific database management system.

User Interface:

1. Home Page
2. About Page
3. Service Page
4. Product Listing Page
5. Product Detail Page
6. Admin Page
7. Database details

List of Tables

Table No.	Title
1	Product Details Table
2	User Information Table
3	Order Details Table
4	Inventory Records Table
5	Admin Login Credentials Table
6	Sales Report Summary
7	Functional Requirements of the System
8	Hardware and Software Requirements

Abbreviations

Abbreviation	Full Form
UI	User Interface
UX	User Experience
JS	JavaScript
JSP	Java Server Pages
JDK	Java Development Kit
IDE	Integrated Development Environment
API	Application Programming Interface
DBMS	Database Management System
RDBMS	Relational Database Management System
SQL	Structured Query Language
MVC	Model-View-Controller
CRUD	Create, Read, Update, Delete
HTTP	Hypertext Transfer Protocol
MVC	Model View Controller
OS	Operating System
SMTP	Simple Mail Transfer Protocol
SRS	Software Requirements Specification

Notations & Symbols

Symbol / Notation	Description
→	Represents flow or transition from one process to another (e.g., in flowcharts or diagrams)
=	Assignment or equality (used in logic and coding)
!=	Not equal to (used in conditions and expressions)
{}	Block of code or grouping in programming
[]	Array notation or list index
()	Function or method call; also used in grouping expressions
`	
&&	Logical AND (used in conditional statements)
-->	Denotes relationship or mapping in data models
:	Used to define type or describe key-value pairs
*	Multiplication; also used in diagrams to denote "many" (e.g., one-to-many relationships)
+	Public access modifier in UML diagrams
-	Private access modifier in UML diagrams
#	Protected access modifier in UML diagrams
/	Division operator or used in path notations (e.g., URLs, directories)
@	Annotation in Java (e.g., @Override, @Entity)
<>	Generic types in Java (e.g., List<String>)

Chapter 1: Introduction

1.1 Introduction

Agriculture remains the backbone of the Indian economy, with a significant percentage of the population engaged in farming and related activities. However, the sector faces persistent challenges such as unpredictable weather conditions, inadequate access to market prices, inefficient crop planning, and a lack of reliable information channels. In response to these concerns, **AgriConnect – Your Farm Hub** has been developed as a comprehensive, web-based platform aimed at digitally empowering farmers and modernizing agricultural practices.

AgriConnect integrates a range of essential services into a single interface that is accessible, responsive, and easy to use—even for individuals with limited digital literacy. The core functionalities of the platform include **real-time weather forecasting**, **crop price calculation**, **crop rotation planning**, **market trend visualization**, **interactive chat systems**, and an **online store** for the sale and purchase of agricultural products. The system also features community-driven sections such as **blogs, farming tips**, and a **gallery** to promote knowledge-sharing and engagement among farmers.

Developed using **HTML, CSS, and JavaScript**, AgriConnect utilizes external APIs like **OpenWeatherMap** to fetch dynamic data and **WebSocket** technology to enable real-time communication. The platform is designed to be lightweight and optimized for mobile devices, ensuring accessibility in rural areas where high-speed internet or powerful hardware may not be available. All

components follow a modular structure, allowing for scalability and easy future upgrades, such as database integration or multilingual support.

AgriConnect stands out due to its **farmer-first design**, which centres the user experience around practical agricultural needs. It addresses critical pain points by providing accurate, timely, and actionable data to support daily farming decisions. Moreover, the platform encourages collaboration among farmers, vendors, and agricultural consultants, fostering a digital ecosystem that can adapt and grow with the evolving needs of the community.

This project represents a meaningful step towards the digital transformation of Indian agriculture. It showcases how even simple technologies, when thoughtfully integrated, can create impactful solutions tailored to grassroots challenges. In doing so, AgriConnect contributes to the broader goals of sustainability, food security, and rural economic development in the 21st century.

1.2 Literature Review

In recent years, the integration of Information and Communication Technology (ICT) into agriculture—commonly referred to as **digital or smart farming**—has gained considerable momentum globally. With increasing challenges such as climate variability, market volatility, and limited access to modern tools in rural regions, there has been a growing need for technology-driven solutions that support farmers in making informed decisions. Platforms like AgriConnect aim to fill this gap by combining various services into a single digital environment.

Numerous studies and research initiatives emphasize the benefits of digitization in agriculture. According to the Food and Agriculture Organization (FAO), real-time access to weather forecasts, market prices, and agricultural advice can significantly improve farm productivity and resilience. Moreover, mobile and web-based platforms are particularly beneficial for smallholder farmers in developing countries, where access to extension services is often limited.

Previous platforms have focused on individual services—such as weather apps, price calculators, or e-commerce for agricultural tools—but very few have integrated these features comprehensively. For instance, applications like *Kisan Suvidha* or *Iffco Kisan* provide weather and market data, but lack interactive features like chat systems, crop rotation planning, or integrated online stores. Similarly, while e-commerce platforms allow sales of agricultural tools, they are often disconnected from local pricing insights or crop-specific planning tools. This fragmentation leads to inconsistent user experience and reduced impact.

AgriConnect builds upon these foundations by integrating **multiple critical services** into a unified interface. The use of **real-time APIs**, such as OpenWeatherMap, ensures timely access to climate data. Incorporating a **WebSocket-based chat system** introduces peer-to-peer learning and vendor communication—something

that traditional platforms have largely ignored. Additionally, static tools such as **crop price calculators** and **rotation planners** are tailored to regional agricultural practices using mock databases, offering personalized, locally relevant insights.

Furthermore, the platform's **design philosophy** reflects recent trends in user-centric agricultural systems, which prioritize intuitive design, responsive

interfaces, and mobile accessibility. This aligns with research conducted by rural digital inclusion initiatives, which highlight the importance of minimal data usage, regional language support, and offline capabilities in enhancing technology adoption.

In summary, the literature reflects a clear need for platforms like AgriConnect, which consolidate agricultural tools and communication features into a seamless, scalable solution. By learning from and expanding upon the strengths of earlier systems, AgriConnect serves as a significant step forward in the evolution of digitally supported agriculture.

1.3 Objectives

The **primary objective** of AgriConnect is to develop a **comprehensive, user-friendly web platform** that empowers farmers by consolidating critical agricultural tools—such as weather forecasting, crop planning, market price tracking, and communication—into a single accessible system. The aim is to bridge the technological gap in rural areas and support smarter, more sustainable farming practices through digital innovation.

To achieve this, the following specific objectives have been outlined:

- To integrate real-time weather forecasting tools that help farmers plan irrigation, sowing, and harvesting activities efficiently.
- To build a crop price calculator that allows farmers to estimate market value based on input quantity and local price databases.
- To provide a crop rotation planner that recommends sustainable crop cycles based on the current crop and general agronomic practices.

- To implement a WebSocket-enabled chat system for real-time interaction between farmers, vendors, and agricultural experts.
- To develop an online marketplace where users can buy and sell farming tools, seeds, fertilizers, and other products digitally.
- To present market trends and pricing insights using easy-to-read charts or formatted data sourced from mock or API-based databases.
- To ensure the platform is fully responsive and accessible via both mobile and desktop devices, even in low-bandwidth conditions.
- To include static content sections such as farming blogs, seasonal tips, and a gallery for visual learning and updates.
- To maintain a modular, scalable architecture that allows future integration of backend databases, payment gateways, and multi-language support.

1.4 Significance of the Project

The AgriConnect – Your Farm Hub project holds significant importance in bridging the gap between traditional farming practices and modern agricultural technology. It aims to empower farmers and Agri-stakeholders by offering an integrated digital platform that simplifies farm planning, improves decision-making, and fosters community engagement.

Through features like real-time weather updates, crop price forecasting, crop rotation planning, market trend analysis, and direct communication channels, AgriConnect enhances operational efficiency and reduces farmers' dependency on middlemen. The system is designed with user-friendliness in mind, making it accessible to both tech-savvy and semi-literate users.

This project not only supports the individual farmer but also contributes to the broader goal of sustainable agriculture by promoting informed choices, optimized resource use, and better market visibility. It reflects the practical application of software development to solve real-world agricultural challenges, thereby improving livelihood, productivity, and digital inclusion in rural India.

1.5 Research Design

The research design for AgriConnect – Your Farm Hub follows a structured software development methodology, integrating real-world agricultural challenges with modern technological solutions. The objective is to analyse, design, develop, and evaluate a web-based platform that supports farmers in making data-driven decisions for efficient and sustainable farming.

a) Research Approach

This project uses an applied research approach focused on solving practical issues faced by farmers. It combines field-level understanding with technical development to create a usable, impactful system.

b) Methodology Used

The Agile Development Model was adopted to allow incremental development with frequent feedback from potential users and stakeholders. This iterative method ensured that the system evolved based on practical needs and usability.

c) Research Phases Phase 1: Requirement Analysis

Interacted with farmers and agriculture experts to identify key needs.

Collected data on farming practices, challenges, and tech literacy.

Defined functional and non-functional requirements.

Phase 2: System Design

- Designed the architecture using UML diagrams (Use Case, ER, Class diagrams).
- Created user interface mock-ups and database schemas.
- Planned modules like Weather Forecast, Crop Planner, Market Updates, and Chat System.

Phase 3: Development

- Implemented frontend using HTML, CSS, JavaScript, and Bootstrap.
- Developed backend using a suitable framework (e.g., Django/Node.js/PHP) with MySQL.
- Integrated APIs for weather data and real-time price updates.

Phase 4: Testing

- Performed unit, integration, and system testing to ensure functionality and reliability.
- Conducted user testing with sample farmers to assess usability.

Phase 5: Evaluation

- Evaluated the system based on usability, accuracy, and responsiveness.
- Collected feedback to determine how well the system meets farmer needs and expectations.

1.6 Tools and Technologies Used

- **Frontend:** HTML, CSS, JavaScript

1.7 Sources of Data

The development of **AgriConnect** – Your Farm Hub relies on both primary and secondary data sources to ensure the system addresses real-world agricultural needs and functions effectively in practical scenarios. These data sources played a crucial role in defining system requirements, designing features, and populating modules such as weather forecasting, crop price tracking, and crop rotation planning.

1. Primary Data Sources

- **Farmer Feedback & Surveys:**
  Data was collected through informal interviews and questionnaires from local farmers to understand their challenges, workflows, and level of digital literacy.
- **Agricultural Experts:**
  Consultations with agronomists and agricultural officers provided insights into crop cycles, market dynamics, and sustainable farming practices.
- **Field Observations:**
  Observations from field visits helped in identifying common user behaviours and usability preferences for rural-friendly interfaces.

2. Secondary Data Sources

- **Weather Forecast APIs:**

Integrated third-party APIs (e.g., OpenWeatherMap) provided real-time and predictive weather data to support crop planning.

- **Government Agriculture Portals:**
  Sites like the Agri Market Portal and eNAM offered data related to Minimum Support Prices (MSP), market trends, and commodity rates.
- **Agricultural Research Reports:**
  Research papers, journals, and case studies were reviewed to understand the impact of digital tools in agriculture and to refine the system's scope.
- **Crop Database & Guidelines:**
  Reference material from ICAR (Indian Council of Agricultural Research) and state level agricultural universities informed the crop rotation planner and advisory modules.

This combination of data sources ensured that AgriConnect is grounded in both technical feasibility and real-world agricultural relevance.

Chapter 2: Requirement Specifications

2.1 User Characteristics

The **AgriConnect** – Your Farm Hub system is designed to serve a diverse group of users involved in agricultural activities, each with different technical skills, responsibilities, and access needs. The main user types are Farmers, Agricultural Officers, and System Administrators.

1. Farmers

Role:

Primary users of the platform who use the system for accessing weather forecasts, market prices, crop planning tools, and agricultural advice.

Characteristics:

- Typically have basic to moderate digital literacy.
- Prefer mobile-friendly and easy-to-navigate interfaces.
- Require information in simple and regional language formats.
- Use the system for day-to-day decision-making on farming.

Access Level:

Crop rotation planner

Weather forecast

Price calculator

Chat system

Gallery, blogs, and tips.

2. Agricultural Officers / Experts

Role:

Support users who provide verified data, expert suggestions, and interact wit farmers through the chat system and blogs.

Characteristics:

- Technically proficient and familiar with agricultural data and trends.
- May interact with both frontend and backend elements of the system.
- Provide content for crop tips, updates, and event-related information.

Access Level:

- Moderate to advanced system features
- Content management
- Data analysis tools

3. **System Administrator:**

Role:

Responsible for managing the technical backend, user roles, content updates, and system maintenance.

Characteristics:

- High technical knowledge
- Experienced in managing web-based platforms
- Handles system security, performance, and user management

Access Level:

- Full access to all modules
- CRUD operations for all features
- Database and user analytics access

The system is designed to offer role-based access, ensuring that each user interacts only with the features relevant to their responsibilities and technical comfort.

2.2 Functional Requirements

The **AgriConnect** – Your Farm Hub system is designed with a modular architecture to support multiple user roles and functions, enabling streamlined agricultural planning, data access, and communication. Below is a list of the primary functional requirements categorized by system modules and user roles.

1. User Registration & Authentication

- Users (farmers, experts, admins) should be able to register with their name, contact information, and role.
- Login functionality must include secure authentication (username and password).
- Forgot password/reset option should be available.

2. Weather Forecast Module

- System fetches real-time weather data using third-party APIs.
- Displays temperature, humidity, rainfall predictions, and forecasts for 7 days.

- Weather data should be localized based on user location (entered manually or detected).

3. **Crop Price Calculator**
   - Enables users to input crop name, quantity, and location to get estimated selling prices.
   - Fetches price trends from government sources or predefined datasets.
   - Shows graphs or tables of historical prices.
4. **Crop Rotation Planner**
   - Allows users to input current/previous crops and receive suggestions for the next crop based on season, soil type, and region.
   - Includes a crop database with characteristics like sowing time, duration, water needs, and ideal conditions.
5. **Chat and Communication System**
   - Provides a real-time messaging feature between farmers and agricultural officers/experts.
   - Admins can monitor conversations to ensure proper usage.
   - Includes notification system for replies or updates.
6. **Market Trends & Events**
   - Displays current agricultural news, policies, schemes, and subsidies.
   - Shows upcoming events like Krishi Melas, training programs, or webinars.
7. **Online Store (optional module)**
   - Farmers can browse or list farm-related products like seeds, tools, or fertilizers.
   - Admins manage product approval and user listings.

8. Gallery, Blogs, and Tips

- Users can browse image galleries of successful farms or practices.
- Experts and admins can post blogs, tips, and articles.
- Content should be categorized and searchable.

9. User Profile Management

- Users can edit personal information, location, preferences, and saved crops.
- Experts can manage their blog submissions and chat history.

10. Admin Panel

- Manage all users (view, edit, delete, assign roles).
- Monitor chat activity and blog submissions.
- Manage content for weather API settings, events, and crop database.

2.3 Dependencies

The successful development and deployment of AgriConnect – Your Farm Hub depend on several external and internal components including frameworks, libraries, APIs, and platforms. These dependencies are essential for ensuring seamless functionality, performance, and maintainability of the system. Here's a breakdown of the key **dependencies** for the system.

1. Software Dependencies

Frontend Technologies:

- HTML, CSS, JavaScript, Bootstrap – For designing a responsive and user-friendly interface.
- Optional: ReactJS / Vue.js – For a dynamic single-page application (if used).

Backend Framework:

- Node.js / Django / PHP / Spring Boot – Handles server-side logic, API integration, and database operations.

Database System:

- MySQL / PostgreSQL – Stores user data, crop info, market prices, and chat logs.

Weather API Integration:

- OpenWeatherMap API / Weather Stack API – Provides real-time weather forecasts and climate data for farmers.

Geolocation API (optional)

- For fetching user's approximate location to provide local weather and market trends.

Chat System Framework

- Socket.IO / Firebase / WebSocket's – Enables real-time communication between users and agricultural officers.

2. Tools & Platforms

- IDE
- Visual Studio Code / IntelliJ / PyCharm – For code development.
- Version Control
- Git & GitHub/GitLab – For managing code changes and collaboration.
- Web Hosting / Server Deployment
- XAMPP / Apache Tomcat / Heroku / Firebase / Localhost – To host and run the web application.
- API Testing Tool

- Postman – For testing REST APIs during backend development.

3. Libraries & Frameworks (if applicable)

- Chart.js / D3.js – For visualizing price trends and crop recommendations.
- jQuery – For interactive UI components (if used).
- ORM Libraries – Like Sequelize (Node.js) or Django ORM for easy database operations.

2.4 Performance Requirements

The AgriConnect – Your Farm Hub system is expected to operate efficiently under varying loads and user interactions. The performance requirements ensure the system provides a fast, stable, and reliable user experience, especially in rural and low-bandwidth environments.

1. Response Time

- The system should respond to user requests (such as loading crop prices or weather data) within 2–3 seconds under normal network conditions.
- Critical operations such as chat messages or crop planner results must be displayed in real-time or near real-time.
- Admin operations (e.g., content update or user moderation) should process within seconds.

2. Load Handling / Scalability

- The system should handle at least 100 concurrent users without performance degradation.

- The backend should be scalable, allowing future expansion to handle more users, data, and modules.

3. Availability & Uptime

- The application should be available 24/7 with a target uptime of 99.5%.
- Maintenance periods should be scheduled during off-peak hours with prior notification to users.

4. Data Fetching Efficiency

- Weather and market APIs should fetch and update data automatically every few hours in the background.
- Crop planner suggestions should be generated with optimized algorithms to reduce processing time.

5. Storage & Retrieval

- Database queries (like fetching user history, chat logs, crop records) should return results in less than 3 seconds.
- The system should use optimized indexing and caching strategies for frequently accessed data (e.g., top crops, daily weather).

2.5 Hardware Requirements

To ensure smooth performance and accessibility of the AgriConnect platform, specific hardware requirements must be met for **development**, **deployment**, and **end-user access**. Since the platform is web-based and intended for rural users, the hardware recommendations are optimized for affordability and low-bandwidth environments

1. Development and Testing Environment

1.1 Developer Machines (For Coding and Testing)

- **Processor**: Intel Core i5 (or equivalent) or higher, with at least 4 cores to handle development, testing, and running of local development servers.
- **RAM**: Minimum 8 GB RAM (preferably 16 GB for smoother performance with IDEs, multiple virtual machines, and running local databases).
- **Storage**: SSD with at least 256 GB of storage for faster read/write operations.
- **Operating System**:
    - Windows 10/11, macOS, or Linux (Ubuntu preferred) for development.
    - **JDK**: Java Development Kit (JDK 8 or above installed).
- **Software Tools**:
    - IDE (e.g., IntelliJ IDEA, Eclipse). o MySQL database or a local server to run the development version of the system.
    - Docker for containerization (optional).
    - Version control (Git) with GitHub or GitLab repositories.

1.2 Test Servers (For Testing and QA)

- **Processor**: Intel Xeon or AMD Ryzen processors, with at least 4 cores and high clock speeds (3.0 GHz or higher).
- **RAM**: Minimum 16 GB RAM for handling multiple test scenarios and parallel testing.

- **Storage**: SSD storage with at least 500 GB for handling test environments, logs, and temporary data.
- **Network**: Stable internet connection for testing API calls, integration with third-party services, and remote access.
-

2. Deployment Environment

For Cloud or On-Premise Hosting Cloud Hosting (Recommended):

AWS EC2, Digital Ocean Droplets, or Google Cloud.

VM o vCPU: 2 or more

RAM: 4–8 GB

OS: Ubuntu Server or CentOS

Storage: SSD 50–100 GB

Bandwidth: Minimum 1 TB/month transfer

On-Premise Hosting (Optional for institutions):

Physical server with UPS backup and network redundancy o

Firewall/route for security.

3. End-User Devices (Target Audience: Rural Farmers)

The application is optimized to work on low-spec devices to ensure accessibility for farmers with basic hardware and internet connections.

Device Type: Android smartphones, basic tablets, or entry-level laptops

Processor: 1.2 GHz dual-core (minimum)

RAM: 1–2 GB

Display: Minimum 5-inch screen (for mobile), 11-inch for tablets/laptops

Internet: 2G/3G/4G mobile network (application optimized for low data consumption)

Browser: Chrome, Edge, or Firefox (latest version)

2.6 Constraints and Assumptions

The design and development of **AgriConnect** were influenced by several constraints and underlying assumptions. Understanding these helps define the boundaries within which the system was built and deployed.

1. Constraints

1.1 Technological Constraints

- The platform is developed using **HTML, CSS, and JavaScript**, without backend database integration in the initial version, limiting dynamic data storage and user account management.
- Real-time data is dependent on third-party APIs (e.g., OpenWeatherMap), and
  outage or access limit of these APIs may affect core features like weather forecasting.
- The system uses **WebSocket** technology for chat, which requires reliable internet connectivity and may not function well in remote areas with unstable networks.

1.2 Resource Constraints

- Limited funding and infrastructure in rural areas restrict the adoption of high-end hardware or broadband internet.

- The development team had to prioritize lightweight, mobile-friendly design over advanced features like offline support, AI-based crop advisory, or voice recognition.

1.3 Time Constraints

- The project was developed within an academic semester, which constrained the implementation of advanced modules such as secure authentication, database integration, and payment gateways.
- Extensive field testing and iterative user feedback were limited due to project timelines.

1.4 User Constraints

- Target users (farmers) may have low digital literacy, requiring the system to be extremely intuitive and minimalistic.
- Language localization is currently not implemented, which may affect usability in regions with limited understanding of English.

1.5 Deployment Constraints

- As a static front-end prototype, hosting is limited to platforms like GitHub Pages or basic web servers without full backend capabilities.
- The lack of HTTPS and security layers limits safe deployment for real-world transactions or data-sensitive use.

2. Assumptions

- It is assumed that users have **basic smartphones** and **internet access**, even if limited to 2G or 3G networks.

- The mock crop pricing and rotation data is considered realistic and can be replaced with actual data from government or agricultural agencies in future versions.
- Stakeholders such as agricultural officers and vendors are willing to engage with the platform for content contributions (e.g., blog posts, crop tips).
- Users are expected to provide feedback during future iterations, allowing for refinement and scalability of the platform.
- The system will be upgraded with database support and backend services in subsequent phases.

Chapter 3: DESIGN

3.1 Function-Oriented Design (for Procedural Web Frontend)

The **AgriConnect** platform adopts a modular, component-based design in the frontend using HTML, CSS, and JavaScript. Each core feature is represented as a distinct UI component supported by functional JavaScript methods.

Major Functional Modules:

1. **Authentication Module**
   - login() – Validates credentials, loads homepage view.
   - logout() – Clears session and returns to login screen.
2. **Weather Forecast Module**
   - fetchWeather() – Retrieves live weather data from OpenWeatherMap API.
3. **Crop Price Calculator**
   - calculatePrice() – Estimates market value based on crop and quantity from local data.
4. **Crop Rotation Planner**
   - suggestCrop() – Suggests the next crop based on predefined crop rotation logic.
5. **Market Trends Display**
   - updateMarketTrends() – Visual summary of crop prices and trend indicators.
6. **Real-time Chat System**
   - initChat() –Initializes a WebSocket connection for live farmer-vendor communication.

- sendMessage() – Sends messages to the chatroom.

3.2 System design

3.2.1 Data Flow Diagram

LEVEL - 0

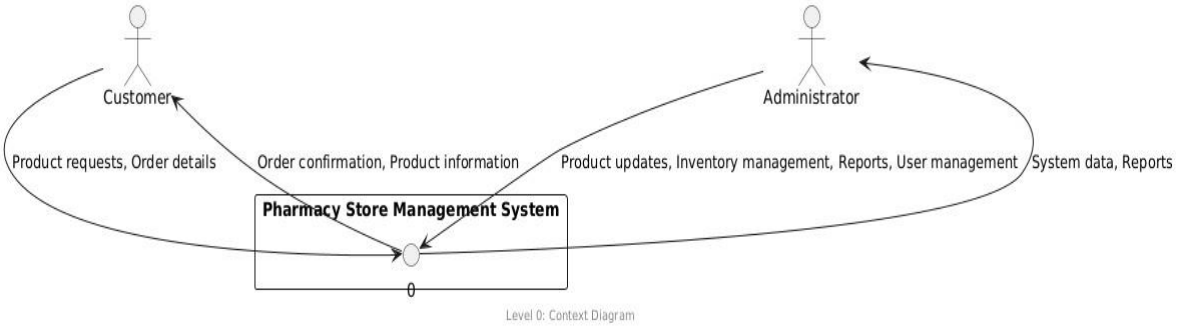

LEVEL - 1

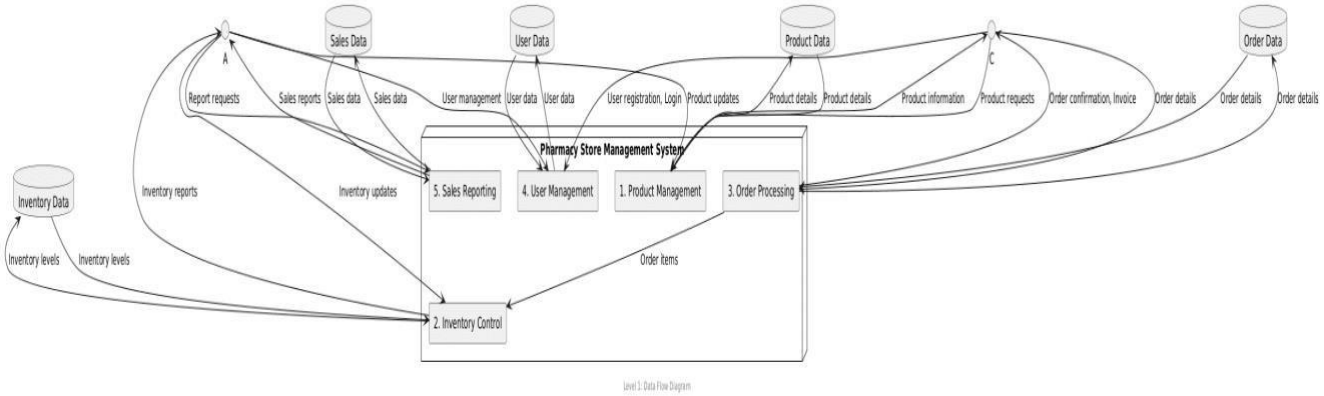

Data Flow Diagram

3.2.2 Activity Diagram

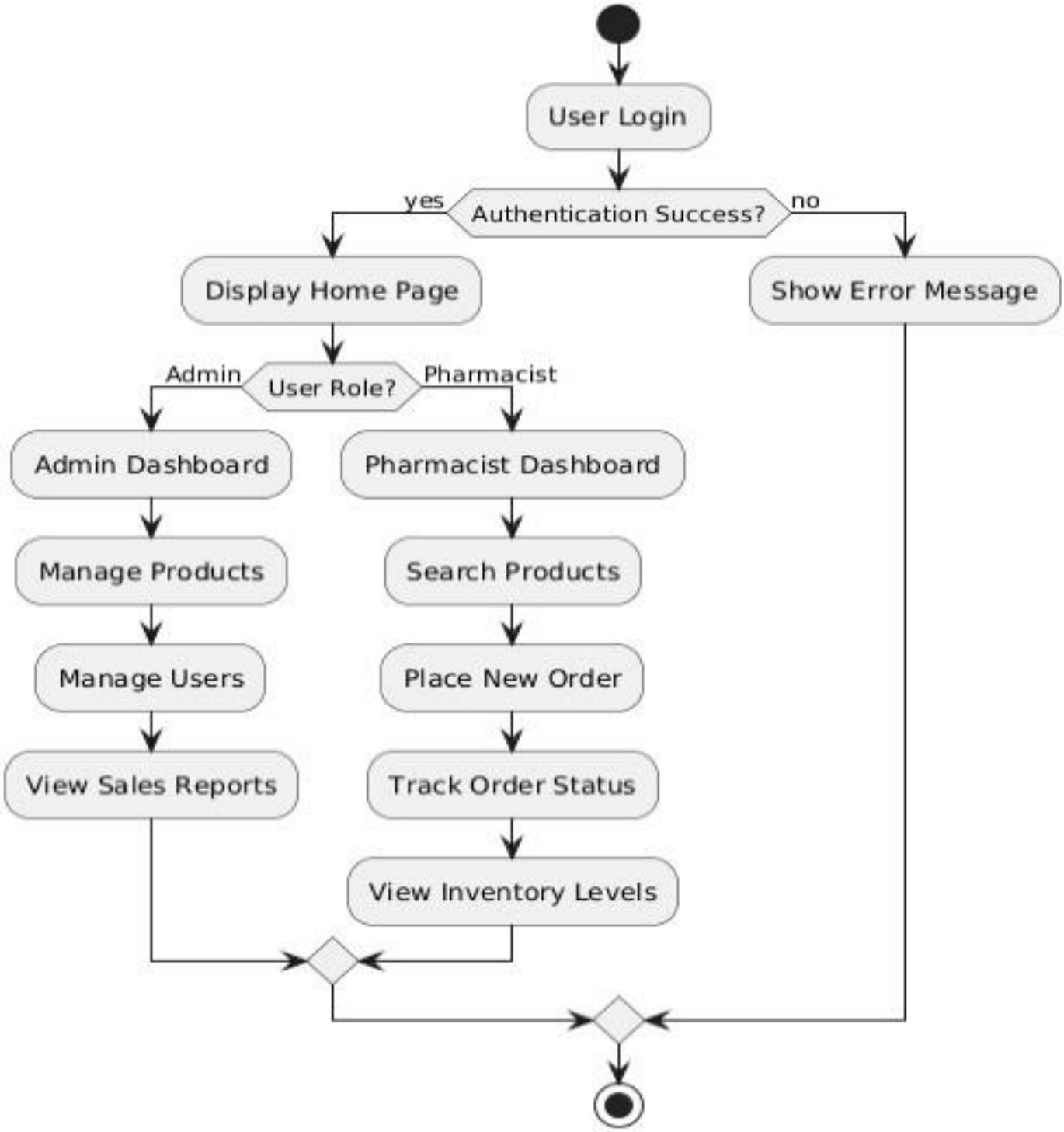

3.2.3 Flow Chart

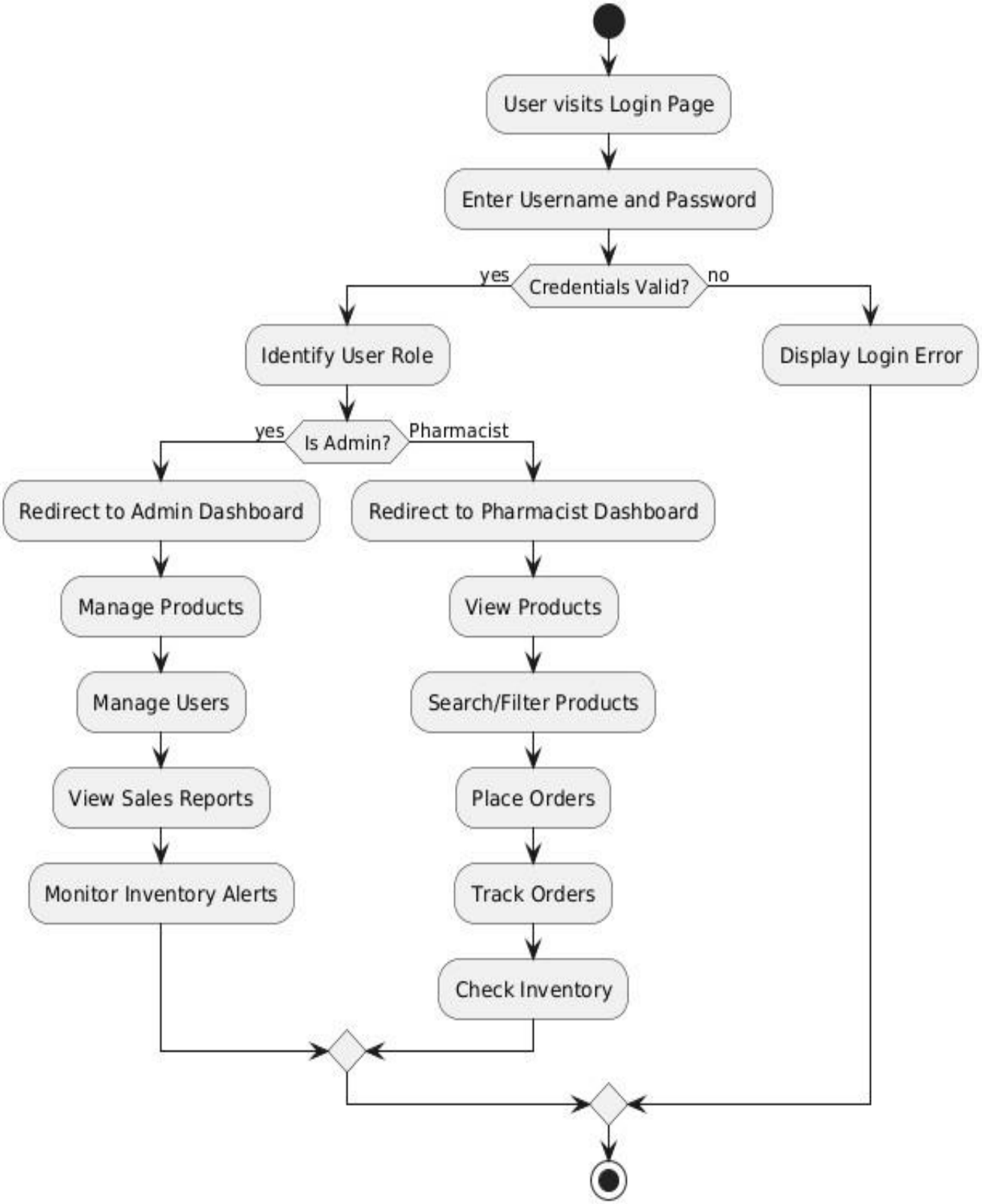

3.2.4 Class Diagram

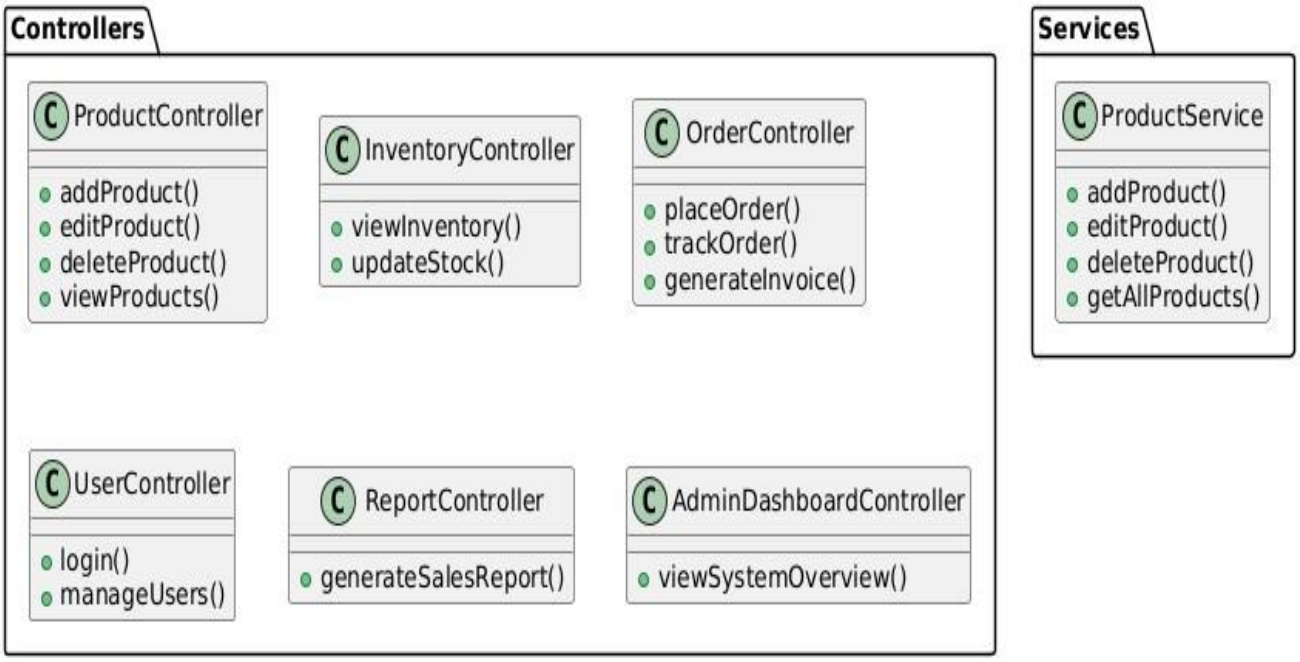

3.2.5 ER Diagram

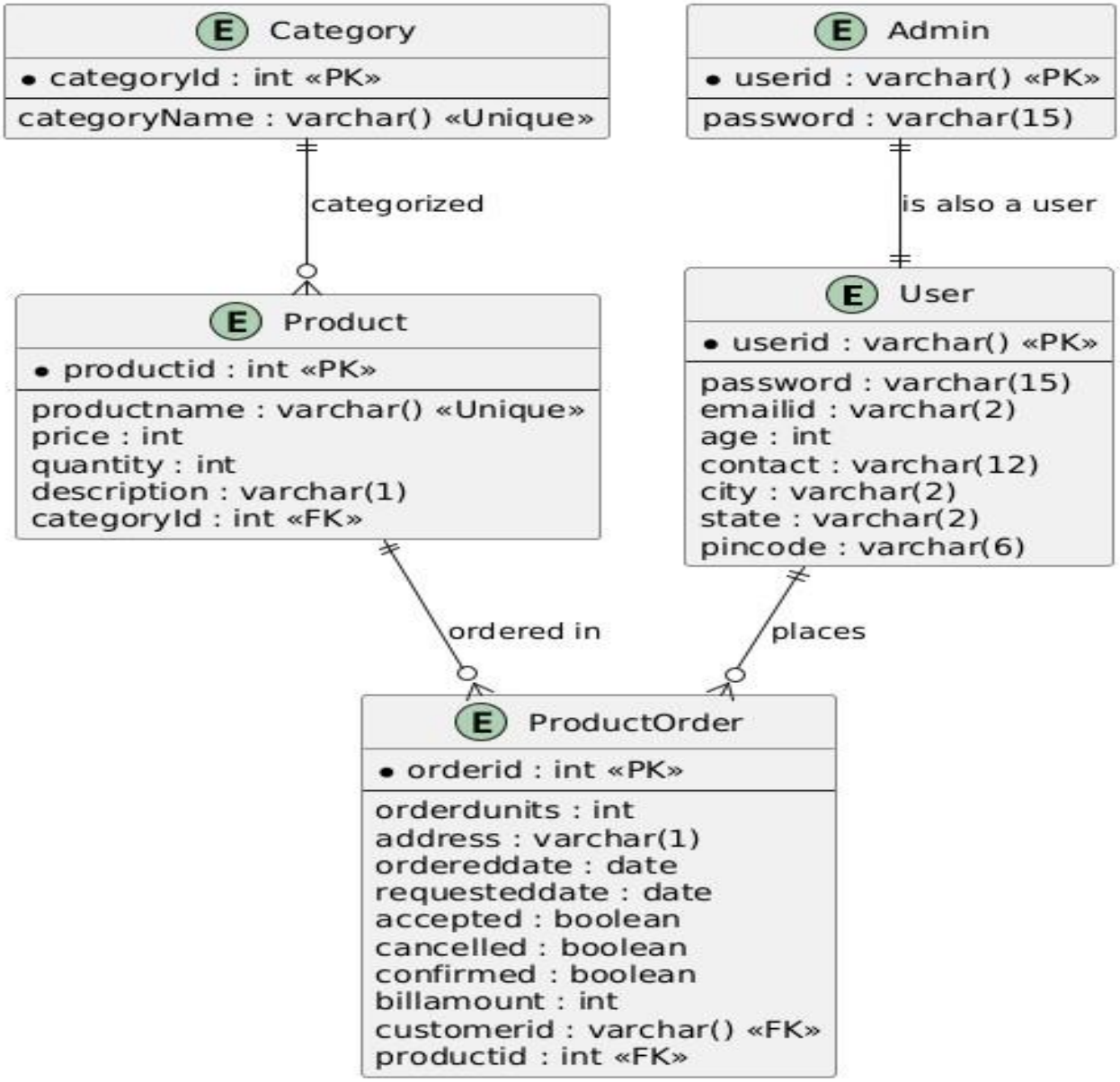

3.2.6 Sequence Diagram

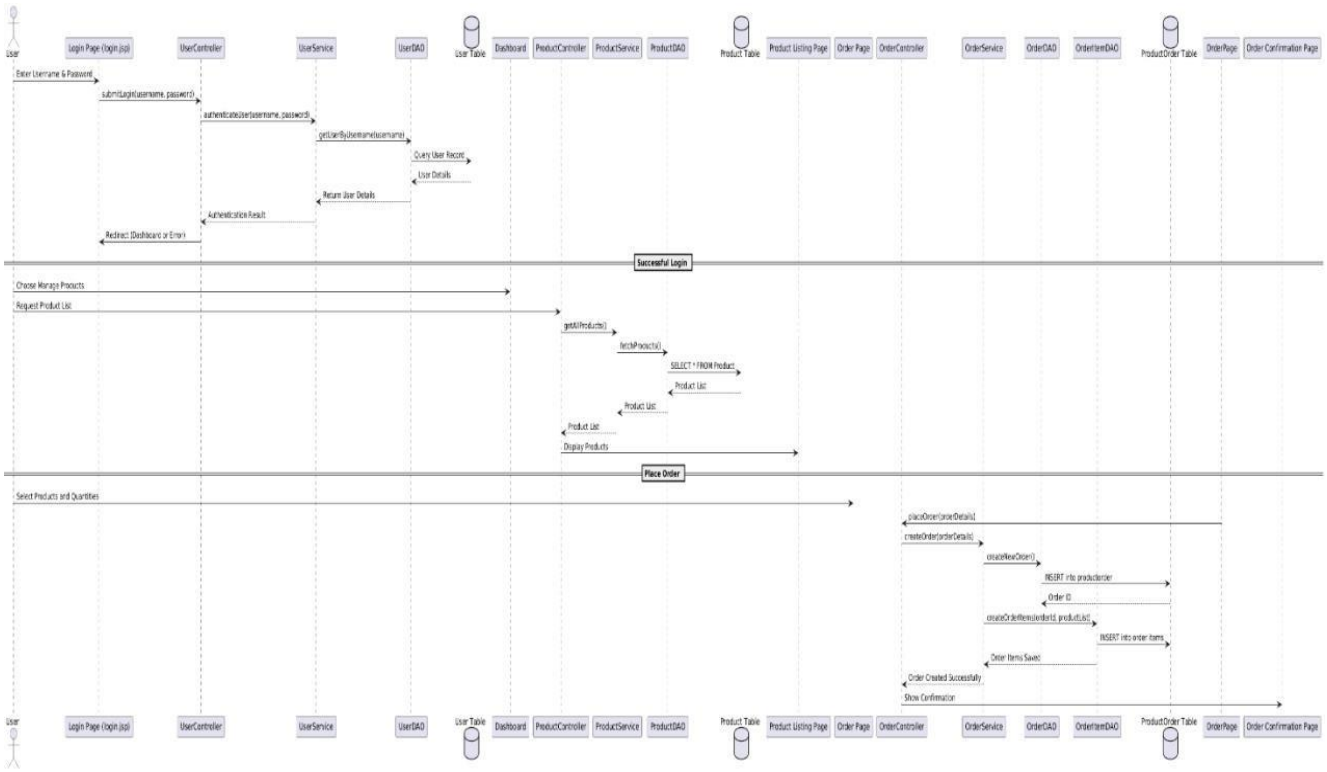

3.3 Database Design (Planned)

3.3.1 Logical Design

Entity	Attributes	Primary Key	Foreign Key
User	user_id, username, password, role	user_id	
Product	product_id, name, price, category	product_id	
Crop	crop_name, price, next_crop	crop_name	
Message	message_id, user_id, content, timestamp	message_id	user_id → User

3.3.2 Physical Design

Not implemented in current version; planned with MySQL backend using tables as described above.

Chapter 4: Implementation, Testing and Maintenance

4.1 Languages, IDEs, Tools, and Technologies Used

Frontend Technologies:

- **HTML5**: Used to structure the web pages.
- **CSS3**: Provides styling and responsive layout for the UI, including animations and visual effects.
- **JavaScript (Vanilla JS)**: Implements core logic for modules like weather API integration, price calculation, crop planning, chat, and UI interaction.

APIs & Libraries:

- **OpenWeatherMap API**: For real-time weather data.
- **WebSocket (Echo Server)**: Used for implementing real-time chat between users.
- **Mock Crop Database (in JS)**: Used for price trends, crop rotation, and market insights.

Development Tools:

- **Visual Studio Code (VS Code)**: Code editor used for writing and debugging HTML, CSS, and JavaScript.
- **Chrome Developer Tools**: For responsive design testing and performance profiling.
- **Git**: Version control system for managing source code changes.

4.2 Testing Techniques and Test Plan

4.2.1 Testing Techniques

1. Unit Testing

- Performed on JS functions like calculatePrice(), suggestCrop(), and fetchWeather() to verify correct logic and return values.
- Manual assertion and console-based validation used in lieu of a testing framework.

2. Functional Testing

- Ensured each feature (chat, login, weather fetch, marketplace display) performs as expected.
- UI inputs tested with valid/invalid data.

3. Usability Testing

- Conducted informally with sample users (students, farmers) to verify readability, mobile responsiveness, and ease of use.

4. Compatibility Testing

- Tested across major browsers (Chrome, Firefox, Edge) and screen sizes (mobile/tablet/desktop) to ensure consistent layout and functionality.

4.2.2 Test Plan Overview

Module	Input	Expected Output	Result
Weather Forecast	Displays current temperature, None (auto-fetch) humidity, etc.		
Crop Price Calculator	"Wheat", 100	$520.00 (Trend: Stable)	
Crop Planner	Corn"	Suggests "Soybean"	

Chat	Text message	Broadcasts message in chat window	
Gallery / Store	Click “Add to Cart”	Shows alert confirmation	

4.3 Installation Instructions

1. No backend server is needed for this version.
2. Place all files (HTML, JS, CSS) in a local folder.
3. Open gg.html in any modern browser (Chrome recommended).
4. Ensure internet connectivity to fetch weather data from OpenWeatherMap API.

Optional (for hosting): Deploy on GitHub Pages or Netlify for public access.

4.4 End User Instructions

1. **Login Page**: Enter any username and password to access the system.
2. **Dashboard Modules**:

   Weather Forecast: View real-time data.

   Crop Calculator: Input crop and quantity to get price and trend.

   Crop Planner: Enter current crop to get suggestion for next season.

   Chat: Participate in real-time discussions with other users.

   Store: Browse farm products and tools.

   Tips/Blogs/Events: View best practices and upcoming activities.
3. **Logout**: Use the “Logout” button in the header to return to login.

Chapter 5: Results and Discussions

5. Results and Discussions

This section presents the outcomes of the project, detailing the system's user interface, modules, database design, and implementation. It provides a comprehensive overview of the developed Pharmacy Store Management System.

5.1 User Interface Representation

The AgriConnect platform features a clean, responsive, and mobile-friendly interface. Visual hierarchy and earthy colour tones are used to ensure readability and familiarity for users in the agricultural domain. The home screen integrates all major modules in a grid layout, making navigation intuitive and fast.

Key UI Traits:

- Mobile responsive using flexbox and media queries.
- Modular card-based layout for each feature.
- Parallax background with soft overlays for depth.
- Hover effects and 3D tilting add interactivity.

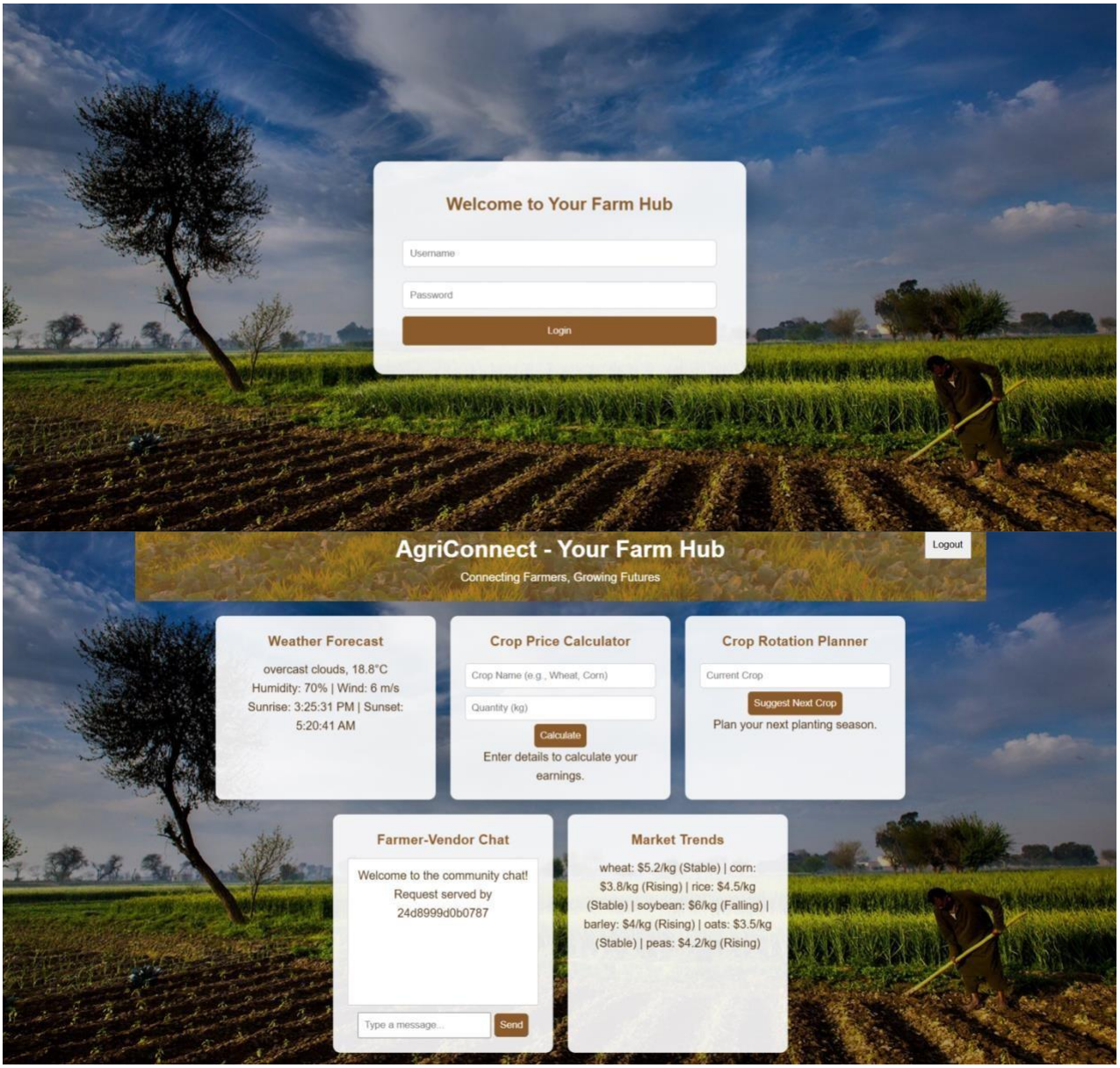
Welcome to Your Farm Hub
Username
Password
Login
AgriConnect - Your Farm Hub
Connecting Farmers, Growing Futures
Logout
Weather Forecast
overcast clouds, 18.8°C
Humidity: 70% | Wind: 6 m/s
Sunrise: 3:25:31 PM | Sunset: 5:20:41 AM
Crop Price Calculator
Crop Name (e.g., Wheat, Corn)
Quantity (kg)
Calculate
Enter details to calculate your earnings.
Crop Rotation Planner
Current Crop
Suggest Next Crop
Plan your next planting season.
Farmer-Vendor Chat
Welcome to the community chat!
Request served by 24d8999d0b0787
Type a message...
Send
Market Trends
wheat: $5.2/kg (Stable) | corn: $3.8/kg (Rising) | rice: $4.5/kg (Stable) | soybean: $6/kg (Falling) | barley: $4/kg (Rising) | oats: $3.5/kg (Stable) | peas: $4.2/kg (Rising)

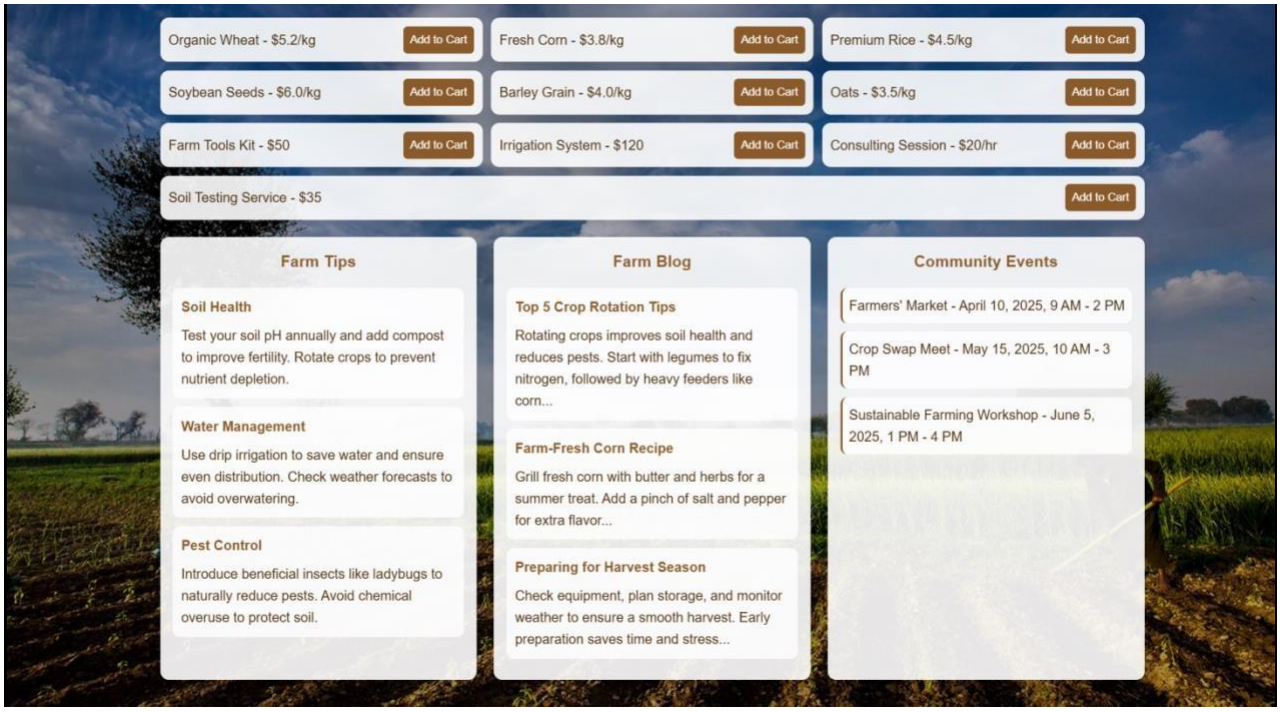

5.2 Description of Various Modules

Module	Description
Login System	Basic entry screen that transitions into the main dashboard after credential input.
Weather Forecast	Pulls real-time weather data (temperature, wind, humidity, sunrise/sunset) using open WeatherMap API.
Crop Price Calculator	Calculates crop earnings based on type and quantity using a local JavaScript database.
Crop Rotation Planner	Suggests the next crop in a rotation cycle based on current crop input.
Market Trends Module	Summarizes the market price and trend (Rising, Falling, Stable) for each crop.
Chat System	Live, real-time chat using WebSocket, fostering communication among farmers.
Online Store	Lists farm tools and crops with an “Add to Cart” simulation.

Farm Tips	Practical advice on soil, irrigation, and pest control in collapsible blocks.
Farm Blog	Dynamic blog-style cards featuring guides and stories from the farming world.
Community Events	Informative section listing upcoming farmer-related events
Gallery	Grid of high-quality, real-world agricultural images to educate and inspire.

5.3 Snapshots with Brief Descriptions

Note: Since you referred to the interface code but didn't attach screenshots directly, these are inferred descriptions based on the HTML content.

- **Login Page**: A minimal login card with 3D hover animation and input fields for username and password.
- **Dashboard Header**: Banner with a background image overlayed with project title and a logout button.
- **Feature Cards**: Interactive tiles for each tool (e.g., weather, chat, price calculator) that animate on hover.
- **Chat Window**: Scrollable box where users can exchange messages in real time.
- **Product Store**: A flexbox layout of clickable store items like seeds, tools, and services with "Add to Cart" buttons.
- **Tips Section**: Cards for soil health, pest control, and water conservation— presented in collapsible containers.
- **Gallery**: Visual grid layout showcasing farming photos (wheat fields, corn harvest, tractors, etc.)
- **Events Section**: Timeline of upcoming farmer markets and training workshops.

5.4 Backend Representation

The current implementation is **frontend-only**, and the following are placeholders for future backend support:

- Crop database (currently JavaScript object).
- Chat server (currently uses a public WebSocket echo server).
- Pricing and trend data (hardcoded for demo).
- No persistent data storage—refresh resets the session.

5.5 Snapshots of Database Tables (Planned)

Name	**Purpose**	**Sample Fields**
users	Stores login data (planned)	user_id, username, password
crops	Pricing and rotation info trend	crop_name, price_per_kg, next_crop,
products	Items in the online store	product_id, name, price, category
messages	Real-time chat logs	message_id, user_id, timestamp, content (future)

Chapter 6: Summary & Conclusion

Summary

AgriConnect – Your Farm Hub is a web-based application designed to empower farmers by centralizing essential agricultural services within a single, accessible platform. The system integrates tools such as real-time weather updates, crop price calculators, rotation planning, market trend insights, a live chat feature, and an online agricultural store.

The project was developed using HTML, CSS, and JavaScript, supported by APIs like OpenWeatherMap and WebSocket for real-time features. Its mobile-responsive design ensures usability even on low-end devices with limited internet connectivity, making it especially suitable for rural environments.

The system was built with a modular design for scalability and future backend integration. Testing was conducted to verify functionality, responsiveness, and usability, and results show the platform performs well across various devices and browsers.

Conclusion

AgriConnect successfully demonstrates how digital tools can support modern agricultural practices by improving access to information, facilitating community interaction, and enabling e-commerce for farm inputs and produce.

While the current version focuses on frontend functionality and mock data, it lays a strong foundation for future enhancements like secure user authentication, backend integration with real-time databases, regional language support, and mobile app deployment.

This project highlights the practical application of web development in solving real world problems in agriculture and contributes to the broader mission of rural digital inclusion and sustainable farming.

Chapter 7: Future Scope

Although the current version of **AgriConnect** effectively addresses key agricultural needs through a web-based frontend, several enhancements are planned to transform it into a complete agri-tech ecosystem. The following future developments are proposed:

1. **Backend Integration**

- Implement a **server-side database (e.g., MySQL or Firebase)** to store user data, crop records, pricing history, and chat logs.
- Enable **user registration, login authentication**, and **persistent sessions**.
- Introduce **role-based access control** (farmer, vendor, admin).

2. Mobile Application Development

- Develop dedicated **Android and iOS mobile apps** to enhance accessibility.
- Use frameworks like **React Native** or **Flutter** for cross-platform deployment.

3.Regional Language Support

- Allow users to purchase tools, seeds, and services via secure payment options like **UPI, credit/debit cards, or net banking**.
- Partner with rural fintech platforms for simplified transactions.

4. Regional Language Support

- Add **multilingual interfaces** (Hindi, Marathi, Telugu, etc.) for improved usability in diverse regions.
- Support **text-to-speech** features for farmers with low literacy.

5. Advanced Analytics and AI

- Integrate **AI-based crop recommendations** using soil, weather, and historical yield data.
- Use **predictive analytics** to forecast prices and detect pest outbreaks.

6. Offline Access and PWA

- Convert the platform into a **Progressive Web App (PWA)** with offline caching and background sync.
- Ideal for rural areas with inconsistent internet access.

7. Government and NGO Integration

- Link with APIs from **eNAM, ICAR, and Agmarknet** to fetch real-time crop prices and scheme updates.
- Provide a module for **subsidy awareness, KYC updates**, and **agricultural loans**.

8. Community Expansion

- Enable **user-generated content** (blogs, reviews, discussion forums).
- Create **leaderboards or reputation systems** to promote active users and advisors.

By implementing these enhancements, AgriConnect can evolve from a simple digital assistant into a **scalable, intelligent agricultural ecosystem**—helping farmers adopt modern practices, access markets directly, and make data-driven decisions for a sustainable future.

Bibliography

1. W3Schools – Web development tutorials *https://www.w3schools.com/*
2. Mozilla Developer Network (MDN) – HTML, CSS, and JavaScript documentation *https://developer.mozilla.org/*
3. OpenWeatherMap API – Weather forecasting API *https://openweathermap.org/api*
4. Stack Overflow – Programming help and examples *https://stackoverflow.com/*
5. GeeksforGeeks – Web development concepts and examples *https://www.geeksforgeeks.org/*
6. Google Fonts & Material Design Icons – UI components *https://fonts.google.com/icons* 7.
7. Indian Council of Agricultural Research (ICAR) – Crop and farming guidelines *https://icar.org.in/*
8. eNAM (National Agriculture Market) – Market price data reference *https://enam.gov.in/web/*
9. Bootstrap Official Docs – Responsive web design framework *https://getbootstrap.com/*